# Heritage Values in Site Management
## Four Case Studies

Marta de la Torre • Margaret G. H. MacLean • Randall Mason • David Myers

Edited by Marta de la Torre

*This page intentionally left blank*

# Heritage Values in Site Management

## Four Case Studies

Marta de la Torre

Margaret G. H. MacLean

Randall Mason

David Myers

Edited by Marta de la Torre

The Getty Conservation Institute, Los Angeles

The Getty Conservation Institute

Timothy P. Whalen, *Director*
Jeanne Marie Teutonico, *Associate Director, Field Projects and Sciences*

The Getty Conservation Institute works internationally to advance conservation and to enhance and encourage the preservation and understanding of the visual arts in all of their dimensions—objects, collections, architecture, and sites. The Institute serves the conservation community through scientific research; education and training; field projects; and the dissemination of the results of both its work and the work of others in the field. In all its endeavors, the Institute is committed to addressing unanswered questions and promoting the highest possible standards of conservation practice.

© 2005 J. Paul Getty Trust
Getty Publications
1200 Getty Center Drive, Suite 500
Los Angeles, California 90049–1682
www.getty.edu

Christopher Hudson, *Publisher*
Mark Greenberg, *Editor in Chief*

Patrick Pardo, *Project Editor*
Abby Sider, *Copy Editor*
Pamela Heath, *Production Coordinator*
Hespenheide Design, *Designer and Compositor*

The individual case studies were originally designed by Joe Molloy and copyedited by Sylvia Tidwell and Dianne Woo. The book cover is based on a design by Joe Molloy.

Photographs in the Grosse Île case study are courtesy of Margaret G. H. MacLean. Photographs for all other case studies have been provided as indicated.

The accompanying CD-ROM contains copyrighted materials that have been used with permission. See last page for full credit information.

Printed in Canada by Friesens

Library of Congress Cataloging-in-Publication Data
Heritage values in site management : four case studies / Marta de la Torre
.. [et al.] ; edited by Marta de la Torre.
p. cm.
Includes bibliographical references and index.
ISBN-13: 978-0-89236-797-0 (pbk.)
ISBN-10: 0-89236-797-0 (pbk.)
1. Historic sites–Management–Case studies. 2. Cultural
property–Protection–Case studies. I. De la Torre, Marta, 1946– II. Getty
Conservation Institute.
CC135.H46525 2005
363.6′9–dc22

2004017483

# Contents

**Foreword**
*Timothy P. Whalen* v

**PART ONE Project Background**
*Marta de la Torre*

**Introduction** 3

**About the Case Studies: Purpose, Design, and Methods** 10

**Steering Committee of the Case Study Project** 13

**PART TWO The Case Studies**

**Grosse Île and the Irish Memorial National Historic Site**
*Margaret G. H. MacLean and David Myers*

About This Case Study 18
Management Context and History of Grosse Île 20
Understanding and Protecting the Values of Grosse Île and the Irish Memorial National Historic Site 28
Conclusions 50
Appendix A: Commemorative Integrity—A Short History of a Central Concept in Heritage Management in Parks Canada 53
References 55
Persons Contacted during the Development of the Case 56

**Chaco Culture National Historical Park**
*Marta de la Torre, Margaret G. H. MacLean, and David Myers*

About This Case Study 60
Management Context and History of CCNHP 61
Understanding and Protecting the Values of the Park 69
Conclusions 97
Appendix A: Time Line during Heritage Status 101
Appendix B: Resource Classification 105
Appendix C: Management Priorities of CCNHP in 2001 106
Appendix D: Summary of Legislation Pertinent to CCNHP 107
References 110
Persons Contacted during the Development of the Case 113

**Port Arthur Historic Site**
*Randall Mason, David Myers, and Marta de la Torre*
About This Case Study 116
Management Context and History of Port Arthur Historic Site 117
Understanding and Protecting the Values of the Site 129
Conclusions 160
Appendix A: Time Line after the Closing of the Penal Colony 164
References 167
Persons Contacted during the Development of the Case 169

**Hadrian's Wall World Heritage Site**
*Randall Mason, Margaret G. H. MacLean, and Marta de la Torre*
About This Case Study 172
Management Context and History of Hadrian's Wall World Heritage Site 174
Understanding and Protecting the Values of the Site 190
Conclusions 206
Appendix A: Time Line for Hadrian's Wall during Heritage Status 209
References 211
Persons Contacted during the Development of the Case 213

**PART THREE Issues Raised by the Case Studies**
*Marta de la Torre* 217

**Index** 228

**About the Authors** 233

## Contents of Supporting Documents on CD-ROM

**Grosse Île and the Irish Memorial National Historic Site**
(1) Grosse Île National Historic Site—Development Concept (1992)
(2) Grosse Île National Historic Site—Report on the Public Consultation Program (1994)
(3) Part III (Cultural Resource Management Policy) of Parks Canada Guiding Principles and Operational Policies (1994)
(4) Commemorative Integrity Statement for Grosse Île and the Irish Memorial National Historic Site (1998)
(5) Grosse Île and the Irish Memorial National Historic Site Management Plan (2001)
(6) Guide to the Preparation of Commemorative Integrity Statements (2002)

**Chaco Culture National Historical Park**
(1) Chaco Culture General Management Plan/Development Concept Plan (1985)
(2) Chaco Culture Statement for Interpretation and Interim Interpretive Prospectus (1991)
(3) National Park Service Management Policies 2001

**Port Arthur Historic Site**
(1) Broad Arrow Café Conservation Study (1998)
(2) Port Arthur Historic Site Conservation Plan, volume 1 ( 2000)
(3) Port Arthur Historic Site Conservation Plan, volume 2 (2000)
(4) PAHSMA Annual Report 2001

**Hadrian's Wall World Heritage Site**
(1) Planning Policy Guidance 16: Archaeology and Planning (1990)
(2) Planning Policy Guidance 15: Planning and the Historic Environment (1994)
(3) Hadrian's Wall World Heritage Site Management Plan 1996
(4) Hadrian's Wall World Heritage Site Management Plan 2002–2007

# PART TWO The Case Studies

# Hadrian's Wall World Heritage Site

Randall Mason, Margaret G. H. MacLean,

and Marta de la Torre

# Management Context and History of Hadrian's Wall World Heritage Site

## Physical and Geographic Description

Hadrian's Wall World Heritage Site is located in northern England. The site extends approximately 118 kilometers (73 miles) east to west, following the line of Hadrian's Wall across the Tyne-Solway isthmus and spreading down the Cumbrian coast to include Roman coastal defenses. The specific geographic boundaries of the site[2] are based on the extent of the Wall and associated sites and ruins that are protected as scheduled monuments under the *Ancient Monuments and Archaeological Areas Act* of 1979.[3] The setting consists of the viewshed around the site itself.

The Romans, in search of a location on which to build a defensive military network against hostile inhabitants to the north, chose the narrowest east-west path in this region of Britain and used many of the area's topographic features to their advantage. Today, the archaeological remains of the Wall and its associated structures take many forms, and a great deal of archaeological research has been conducted on them. Features of the Wall have been adapted, altered, reused, dismantled, and conserved on an ongoing basis since its construction began in 122 C.E.

In many places, the Wall stands aboveground in its original position, though not in its original dimensions (nowhere does the Wall survive at its full height). On the western and eastern ends there are few aboveground remains. Wall features are best preserved and most readable in the central section of the site, where a significant portion, called the Clayton Wall, has been conserved and

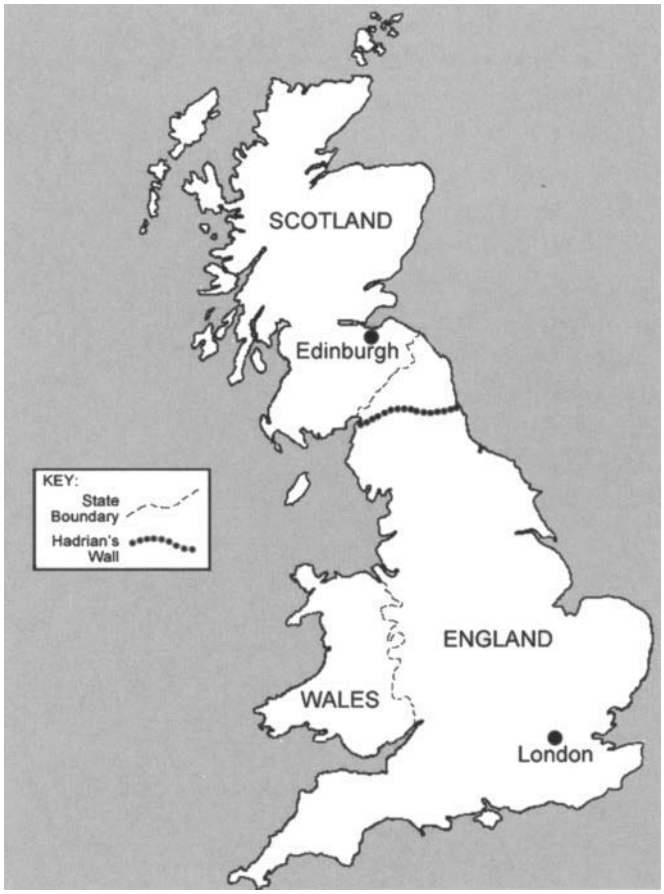


*Figure 4.1*. Map of the United Kingdom, indicating the location of Hadrian's Wall. The Wall was built by the Roman army in 122 C.E. across the narrowest part of its island territory.

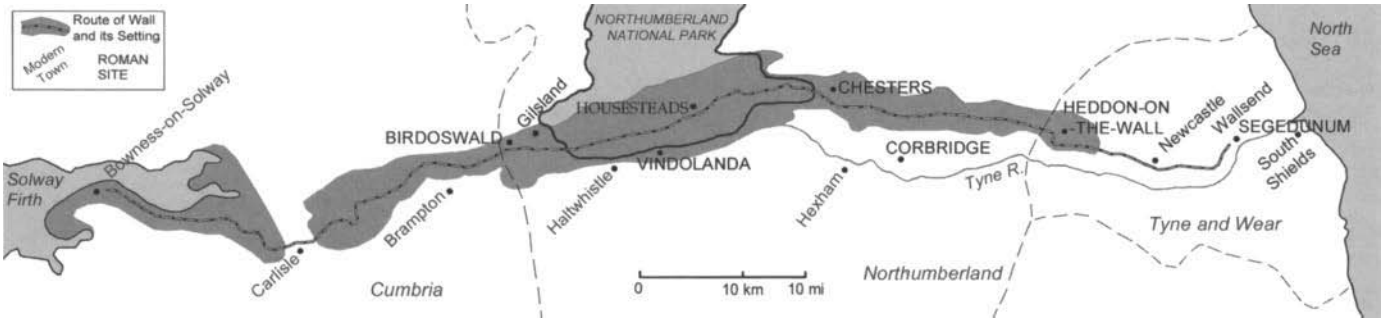


*Figure 4.2*. Map of the Wall and its setting.

*Figure 4.3*. A long view of the Wall. This portion of the Wall is typical of the central section of the World Heritage Site. Photo: Margaret G. H. MacLean

*Figure 4.5*. The exposed foundations of a fort at South Shields. Photo: Margaret G. H. MacLean

rebuilt.[4] Many landscape features—vallum ditches and other earthworks—survive. Dozens of milecastles, forts, and fortlets are still evident in excavated and conserved remains, and many of these are interpreted for the public. Since the 1880s most of the Wall's visible remains have been conserved and consolidated in some measure. The Wall has been totally destroyed in only a few places, where highways, pipelines, or quarries cross or cover its line.[5]

Topographically, the site can be divided roughly into three regions. The first is the eastern lowland region known as the Tyne and Wear Lowlands, which lie between South Shields and Chollerford. From Wallsend, the Wall runs westward from the North Sea coast across low-profile terrain and through the lower Tyne River valley. After the industrial revolution, the urban center of Newcastle upon Tyne emerged as the commercial capital of England's northeast, a position the city still maintains.

*Figure 4.4*. One of numerous sections of the Wall that cuts through working farms. Photo: David Myers

This sprawling urban area (now called Tyneside) dominates the eastern region of the site. Within Tyneside, the Wall exists mostly as belowground or excavated/conserved ruin.

The continuous course of aboveground Wall runs westward, beginning at Heddon and extending toward Birdoswald, and forms the second, central region of the site.

The third region lies to the west and consists of lowlands between Brampton and the Solway Firth, a tidal estuary characterized by marshes and mudflats. Today, this area is dominated by livestock pastures and agricultural cultivation. Farther inland is the Carlisle Basin, a broad valley drained by the rivers Irthing, Eden, Esk, and



*Figure 4.6*. The remains of a well-preserved regimental bathhouse associated with the Roman fort at Chesters, situated astride the Wall on the North Tyne River. Photo: Margaret G. H. MacLean

*Figure 4.7.* Detail of a conserved section of the Wall near Birdoswald. The stone contains an original Roman inscription. Photo: David Myers

Caldew, all of which flow into the Solway Firth. Rural land in the basin is used mainly for livestock grazing. Situated at the head of the Solway Firth is the historic city of Carlisle, the region's urban hub. Between the basin and the central region of exposed uplands is a transitional zone of rolling hills divided by valleys.

Although the Wall ends at Bowness-on-Solway along the Solway Firth, remnants of the Romans' defensive network, in the form of freestanding fortlets and towers, are found to the southwest along the Cumbrian coast as far as Maryport at the periphery of the Lake District. Here the landscape becomes more rolling, with the coast marked by sea cliffs. Occasional fort sites continue as far south as Ravenglass, the southernmost point of the World Heritage Site.

*Figure 4.8.* The Romans took advantage of the landscape's natural barriers, situating the Wall atop the high ridges of Whin Sill, east of Housesteads. Photo: Marta de la Torre.

A maritime influence creates a temperate climate year-round in Great Britain, in spite of its relatively high latitude.[6] The region of the site is characterized by regular high humidity, cloudiness, and a high percentage of days with precipitation.[7]

### History of Hadrian's Wall[8]

The history of the Wall's creation by Roman legions, and of the Roman period of British history, has been extensively documented.[9] This section focuses on the post-Roman period and emphasizes the history of the Wall as a heritage site and the gradual acknowledgment of the landscape in which the Wall is situated as part of the site.

In the centuries following the Romans' abandonment of the Military Zone, the stones of the masonry structures of the Wall and its associated fortifications were removed and reused in the construction of castles, churches, dwellings, field walls, and other structures. Thus the Wall provided great utilitarian value as a source of building material. Land records dating back to the Norman period also show that the Wall was an important boundary between property holdings, agricultural fields, and parishes. In addition, it inspired place-names throughout the region, giving rise to Walton, Walwick, Thirlwall, and Walby.

Although the Wall has been described in written and cartographic works dating back to the eighth century, the first relatively large-scale account appeared in 1599, when the antiquarian William Camden published a survey and explanation of the Wall and its structures in the fifth edition of his *Britannia*.

Throughout the eighteenth and nineteenth centuries, the Wall continued to be used as a source of building material. The 1750s saw the construction of the Military Road, which is approximately 48 kilometers (30 miles) long, between Newcastle and Carlisle.[10] The road was built on the top of the Wall to minimize damage to the fields of local landowners and to save costs by using the Wall's remnants as a road foundation and as a source for stone.[11]

The steady erosion of the Wall led to concerted efforts to study it as well as a growing interest in conserving it. In the eighteenth century, several antiquarian studies were made, including William Hutton's *The First Man to Walk Hadrian's Wall* in 1801. Ten years later, Hutton saved a section of the Wall at Planetrees from being pillaged to make field walls, an event considered the first successful effort of conservation.[12]

John Clayton was an important figure in the understanding and conservation of the Wall. In 1832, he inherited land containing Chesters Roman Fort. The nineteenth century was a period "when [Wall] sites were owned by privileged individuals . . . who could use them for their own research—and the pleasure of themselves and of their friends."[13] For nearly six decades, Clayton funded the excavation, protection, and reconstruction of remains of the Wall. In the process, he amassed a collection of Roman objects from various locations along the Wall. Clayton acquired and worked on five Roman sites in the area of Chesters and led excavations at the fort sites of Housesteads (1849–present), Carrawburgh (1873–76), and Carvoran (1886).

The nineteenth century was also marked by the establishment of "learned societies" for the study of antiquities. This development came at a time when there was a strong interest in all things Roman and the view that the Roman Empire was a model for England's own vast imperial holdings. These societies increased interest in, and access to, the Wall, introducing it to broader audiences, although membership was limited to the social and economic elite. The proliferation of these groups coincided with the emergence of the Romantic movement, which fostered an appreciation for the aesthetic qualities of the ruins and the natural or naturalistic landscapes in which they were situated.[14] In 1849, the first pilgrimage traveling the full length of Hadrian's Wall was led by John Collingwood Bruce. Two years later, Bruce published the first edition of *The Roman Wall*, which summarized the results of Clayton's excavations at Chesters Roman Fort and publicized John Hodgson's theory of the Wall's construction under the emperor Hadrian.[15] In 1863, Bruce also published his *Handbook of the Roman Wall*, an important historical guide to this day.[16]

The latter part of the century saw the first public acquisition of part of the Wall and the creation of the first museum to display its Roman relics. In 1875, the South Shields Urban District Council established the Roman Remains Park at South Shields, marking the first public acquisition and display of part of the Wall by a public authority.[17] Later, in 1896, the museum at Chesters Roman Fort was constructed to house John Clayton's collection of Roman objects.

Government efforts to protect the Wall increased through further public and trust ownership in the twentieth century. These decades also witnessed an extraordinary growth of tourist visitation. A new generation of academically trained, professional archaeologists rose to prominence in Wall studies and replaced the amateur antiquarians. With the passage of national legislation providing for the protection of archaeology, a first portion of the Wall was scheduled as an ancient monument in 1927.

In 1932, continued quarrying threatened the archaeological fabric of the Wall, motivating the national government to introduce new, more powerful national ancient monuments legislation. This led to the adoption of the Hadrian's Wall and Vallum Preservation Scheme, a first step toward comprehensive public protection of the central part of the Wall and some buffer areas surrounding it.[18] The National Trust also received as a donation the core of its Hadrian's Wall holdings at Housesteads in the central region, a Wall site that has proven to be the most popular among tourists. In 1935, the National Trust opened the Housesteads Museum to the public.[19]

Mass tourism began in the years following World War II, when the growth in automobile ownership and increases in leisure time brought more and more visitors to the Wall. Visitation peaked in 1973, then quickly dropped as a result of a spike in fuel prices (see fig. 4.9). From the start, the experiences available to tourists have been quite varied and remain so today, ranging from well-staffed and thoroughly managed sites with interpretive schemes, gift shops, and amenities, to large stretches accessible informally by simply walking through the countryside.

In 1970, the Vindolanda Trust, an independent archaeological charitable organization, was founded at the fort site of Vindolanda (formerly Chesterholm). Its mission was the excavation, preservation, and presentation of the Roman remains. Later, in the mid-1980s, another fort site went into public ownership when the Cumbria County Council acquired the Birdoswald estate. Likewise, Rudchester was acquired by Northumberland County, North Tyneside acquired Wallsend, and South Tyneside expanded its holdings at South Shields. English Heritage (EH), created by Parliament in 1984, has served as an active force in the conservation, management, and presentation of the Wall. The agency opened the Corbridge Museum in 1984 and launched its Wall Recording Project the following year. The project provides detailed documentation of the visible remains of the Wall and its associated features.[20] EH continues to care for many parts of the Wall.

As a culmination of its long history of heritage and stewardship, Hadrian's Wall was inscribed by the United Nations Educational, Scientific and Cultural Organization (UNESCO) as a World Heritage Site in 1987.

## Reconstruction at Archaeological Sites: A Lens on Cultural Resource Policy

Reconstruction of aboveground features at archaeological sites is a source of great controversy in professional circles, and yet it is a fairly common practice. In situ reconstruction proposals often highlight conflicts of value: while reconstruction usually destroys archaeological and research value to some extent and may damage perceptions of a site's "authenticity," the "realism" suggested by the new structure can increase the number of visitors and therefore the economic and social value of the site. Ex situ reconstructions are less controversial because, in principle, they are not placed over archaeological deposits. The strategies and intentions behind reconstruction vary considerably from site to site along Hadrian's Wall, making reconstruction an excellent lens through which to view the varying, sometimes opposing, approaches to cultural resource policy that exist within the Management Plan framework.

The bathhouse of Segedunum at Wallsend. In addition to a broad, excavated area and a new, award-winning museum, the site includes a Roman bathhouse reconstructed ex situ. The project has captured considerable interpretive and research values through the process of researching, constructing, and presenting the working Roman-style bathhouse. Since it was not built above archaeological resources and is presented as a modern structure, it does not undermine the research value of the site. Photo: Marta de la Torre

Several examples of reconstructed buildings and features are present at individual sites across the World Heritage Site, and more are planned for the future. Even the Wall itself is an in situ reconstruction in some places. Partners have different standards for reconstruction, ranging from a strict avoidance of reconstruction as a conservation strategy, to its free use to generate interpretation and visitor attraction.

Reconstruction has been justified either as research in the use of construction materials and techniques or as a means of helping the visitor imagine the original appearance of a site. The reconstructions illustrated here were conceived and executed to create stronger images and interpretive tools for conveying the central historic values of the Wall and its features as representing the Roman military frontier that so strongly shaped this part of the United Kingdom.

In general, the conservation field does not embrace reconstruction. The Venice Charter[1] states, "All reconstruction work should . . . be

Panoramic view of the actual remains of the fort at Segedunum, as seen from an observation tower, showing the reconstructed bathhouse at the far left. Photo: Margaret G. H. MacLean

ruled out 'a priori.'" *PPG 15* terms reconstruction "not appropriate." The 1998 British Standard on the Principles of the Conservation of Historic Buildings[2] instructs, "A presumption against restoration is a hallmark of the British approach to building conservation." However, some experts believe reconstructions increase public understanding, bolstering the marketability of sites, creating jobs, and boosting tourism expenditures and associated economic externalities.

The West Gate at Arbeia at South Shields. Located near Newcastle, the site of Arbeia has several reconstructions. The West Gate, reconstructed in 1988, was initially challenged by English Heritage and resulted in a public inquiry. Reconstruction was eventually approved, along with tacit approval of the idea of using reconstructions as a bold visitor attraction strategy. It is interesting to note that the same individual developed the plans for South Shields and Segedunum using reconstruction, excavation, and museum display methods but different overall approaches to each. Photo: Margaret G. H. MacLean

Recently revised EH policy on reconstruction maintains basic conservation principles while carefully circumscribing certain conditions under which it can be accepted as conservation policy, and therefore in the interest of sustaining heritage values. Emphasis, however, remains on discouraging speculative reconstruction and precluding in situ reconstructions that damage original fabric.

The 2002 Management Plan adopts a policy generally supportive of reconstruction, citing several successful examples at the site and listing several advantages of selective reconstructions (in situ and otherwise). This marks a change from the traditional approach to archaeological values.

All in all, a lack of consensus still remains on reconstruction among the Hadrian's Wall partners. The issue has been divisive. Already in

The reconstructed barracks at Arbeia at South Shields. At present, additional in situ reconstructions of barracks and houses are being undertaken within the excavated fort walls at Arbeia. Photo: Marta de la Torre

Clayton's Wall, near Steel Rigg. Many segments of Hadrian's Wall could be considered reconstructions. For example, in some places much of the wall was mined for building stone in the post-Roman era. The extensive sections of Clayton's Wall reconstructed in the nineteenth century (followed by similar conservation in the twentieth century) consist of a core of excavated and reassembled Roman-era dry-laid wall with nineteenth-century course layered on the top. Few, if any, truly authentic segments of exposed wall survive. Photo: Marta de la Torre

The private Vindolanda Trust pursues an active program of excavation, research, conservation, and reconstruction with a strong entrepreneurial visitor orientation. Some of the Trust's initiatives have proven controversial. These include a number of ex situ reconstructions, for example this temple and segments of stone-and-turf wall. The Trust plans to reconstruct a large Roman fort on its properties, in a location that would have a strong visual impact on the setting. Photo: Marta de la Torre

1984, prior to World Heritage designation, approval of the proposal for the reconstruction of the West Gate at South Shields did not come until after a public inquiry, the last step in resolving a reconstruction disagreement. The interests in favor of reconstruction and its economic-development benefits won out over heritage conservation interests, led at that time by EH. Proposals for reconstruction are expected to continue as conservation and development activities proceed in the World Heritage Site. The absence of consensus is seen as an indicator of the health of the overall partnership: partners can disagree on specific approaches even though they agree on the general framework of values and their protection. "Generally, there can be no objections to reconstruction which is not in situ provided the setting of the World Heritage Site is protected," and, further, that principles of historical accuracy and reversibility are respected.[3] Hadrian's Wall policy therefore reflects a branching away from rigid ideological pronouncements against reconstruction toward a more situational decision making based on

recognition of the multiplicity of values involved. Future proposals for reconstruction present potentially divisive decisions for the partnership.

In the end, the key question about reconstruction is whether it threatens the overall integrity and authenticity of the Wall and setting, and therefore the heritage values of the entire site. Decisions ultimately will be made within the planning controls system—the scheduled monuments review conducted by EH to advise the consent decisions of the DCMS.

## Notes

1. ICOMOS, The Venice Charter, 1967.
2. British Standard on the Principles of the Conservation of Historic Buildings (BS7913, 1998), cited in *English Heritage Policy Statement on Restoration, Reconstruction, and Speculative Recreation of Archaeological Sites Including Ruins*, February 2001.
3. English Heritage 2002, 65–66.

# References


Bidwell, P., ed. 1999. *Hadrian's Wall 1989–1999: A Summary of Recent Excavations and Research Prepared for The Twelfth Pilgrimage of Hadrian's Wall, 14–21 August 1999*. Carlisle: The Cumberland and Westmoreland Antiquarian and Archaeological Society and the Society of Antiquaries of Newcastle upon Tyne.

Birley, E. 1961. *Research on Hadrian's Wall*. Kendal, England: T. Wilson.

Breeze, D. J., and B. Dobson. 2000. *Hadrian's Wall*. 4th ed. New York: Penguin.

British Standard on the Principles of the Conservation of Historic Buildings (BS7913, 1998). In *English Heritage Policy Statement on Restoration, Reconstruction, and Speculative Recreation of Archaeological Sites Including Ruins*, February 2001.

Darlington Amenity Research Trust. 1976. *Hadrian's Wall: A Strategy for Conservation and Visitor Services*. DART Publication no. 25, August.

de la Bedoyere, G. 1999. *Hadrian's Wall: History and Guide*. London: Tempus Publishing Ltd.

Dore, J. N. 2001. *Corbridge Roman Site*. 1989. Reprint. London: English Heritage.

English Heritage. "Hadrian's Wall Museums." http://www.eng-h.gov.uk/ArchRev/rev95_6/hwmuseum.htm (23 May 2002).

English Heritage. 1996. *Hadrian's Wall World Heritage Site Management Plan*. London: English Heritage.

———. 1999. *Chesters Roman Fort*. London: English Heritage.

———. 2002. *Hadrian's Wall World Heritage Site Management Plan, 2002–2007*. Available as a pdf file at http://www.hadrians-wall.org/HWTPMgmtPlan2002.pdf.

Ewin, A. 2000. *Hadrian's Wall: A Social and Cultural History*. Lancaster: Centre for North-West Regional Studies/University of Lancaster.

Fairclough, G., G. Lambrick, and A. McNab. 1995. *Yesterday's World, Tomorrow's Landscape: The English Heritage Historic Landscape Project, 1992–94*. London: English Heritage.

Hadrian's Wall Tourism Partnership. 2002. *Beyond the Final Frontier: Projects in Progress and Proposed, Hadrian's Wall World Heritage Site*. January.

———. "Hadrian's Wall World Heritage Site: Research and Archaeology: Rev. Dr. John Collingwood Bruce, 1998–99." http://www.hadrians-wall.org/randa/jcb.htm (16 May 2002).

———. "Research and Archaeology: Wall Recording Project." http://www.hadrians-wall.org/ (23 May 2002).

———. "Research and Archaeology: Rev. John Hodgson." http://www.hadrians-wall.org/ (23 May 2002).

Hadrian's Wall Tourism Partnership/SRB Steering Group. 2000. *Enrichment and Enterprise. Round 6: Single Regeneration Budget Bid*. 23 May.

Historic Buildings and Monuments Commission for England. N.d. *World Heritage Convention, Cultural Properties: UK Nomination Hadrian's Wall Military Zone*.

Johnson, J. S. 1999. *Chesters Roman Fort*. 1990. Reprint. London: English Heritage.

Land Use Consultants (in association with Heritage Site and Landscape Surveys Ltd). 1995. *Hadrian's Wall Landscape and Planning Study: Final Report*. June.

Mason, R., ed. 1999. *Economics and Heritage Conservation*. Los Angeles: The Getty Conservation Institute. http://www.getty.edu/conservation/publications/pdf_publications/econrpt.pdf.

McKnight, T. 2001. *Physical Geography: A Landscape Appreciation*. 4th ed. Englewood Cliffs, N.J.: Prentice Hall.

Mynors, C. 1999. *Listed Buildings, Conservation Areas and Monuments*. 3rd ed. London: Sweet and Maxwell.

Ordnance Survey. 1975. *Map of Hadrian's Wall*. 2d ed. Southampton: Ordnance Survey Publication.

Pearson, M., and S. Sullivan. 1995. *Looking After Heritage Places: The Basics of Heritage Planning for Managers, Landowners*. Melbourne: Melbourne University Press.

Rimmington, N., and D. McGlade. 2001. "Limits of Acceptable Change Conference: Defining and Managing Quality—Housesteads Roman Fort to Steel Rigg Section of Hadrian's Wall." Consultation draft, 5 November.

*The Strategy for Hadrian's Wall*. 1984. Hadrian's Wall Consultative Committee.

U.K. Department of the Environment. 1990. *Planning Policy Guidance 16: Archaeology and Planning*. Her Majesty's Stationery Office, London. Found at http://www.planning.odpm.gov.uk/ppg/ppg16/index.htm (May 2003).

U.K. Department of the Environment and Department of National Heritage. 1994. *Planning Policy Guidance 15: Planning and the Historic Environment*. Her Majesty's Stationery Office, London. Found at http://www.planning.odpm.gov.uk/ppg/ppg15/pdf/ppg15.pdf. Recent amendment may be found at http://www.planning.odpm.gov.uk/circulars/0101/09.htm (May 2003).

*UNESCO Convention Concerning the Protection of the World Cultural and Natural Heritage*. Accessed at http://whc.unesco.org/nwhc/pages/doc/mainf3.htm.

*UNESCO Convention Concerning the Protection of the World Cultural and Natural Heritage: Operational Guidelines for the Implementation of the World Heritage Convention*. Accessed at http://whc.unesco.org/opgulist.htm.

Watson, I. 1997. *Hadrian's Wall: A Teacher's Handbook*. London: English Heritage.